Project Title:

Visualizing Housing Market Trends: An Analysis of Sales Prices and Features

---

1. Introduction

Project Overview:

This project focuses on visualizing and analyzing trends in the housing market using Tableau. Leveraging real estate data that includes home sales prices, physical features (like square footage, number of bedrooms/bathrooms), location, and sales dates, the goal is to uncover patterns and insights that can inform buyers, sellers, and real estate professionals.

Through a series of interactive dashboards, charts, and maps, this Tableau project presents a clear and comprehensive view of how different factors influence housing prices over time and across regions.

Purpose of the Project:

1. **Identify Key Trends in Housing Prices:**
    - Show how average or median home prices have changed over time.
    - Highlight seasonal patterns, economic shifts, or market booms/busts.
2. **Understand Impact of Property Features:**
    - Analyze how characteristics like size (sqft), number of bedrooms, and age of the property impact sale prices.
    - Compare homes with similar features across different regions.
3. **Regional and Geographic Analysis:**
    - Use map visualizations to show price differences across neighborhoods, cities, or ZIP codes.
    - Identify high-value areas and emerging hotspots.
4. **Support Decision-Making:**
    - Help potential buyers identify where and when to buy based on data.
    - Assist real estate professionals in targeting sales strategies.
5. **Interactive Exploration:**
    - Enable users to filter data by year, region, or property type.
    - Allow dynamic comparison of trends using Tableau's interactive capabilities.

Key Visualizations in the Project:

- **Time Series Line Chart:** Average home prices over time (monthly/yearly).
- **Scatter Plot:** Relationship between square footage and sale price.
- **Bar Chart:** Average price by number of bedrooms or property type.
- **Heat Map:** Price trends by ZIP code or neighborhood.
- **Box Plot:** Distribution of prices by city or region.
- **Filterable Dashboard:** Allows users to explore specific regions, price ranges, or property characteristics.

Data Sources (example):

- Real estate sales dataset (CSV/Excel/SQL).
- Publicly available datasets from Kaggle, Zillow, or government agencies.
- Key columns: Sale Date, Sale Price, Location (city/state/ZIP), Square Footage, Bedrooms, Bathrooms, Year Built.

Target Audience:

- **Homebuyers:** Understand when and where to invest.
- **Sellers & Agents:** Identify market trends and pricing strategies.
- **Real Estate Analysts:** Get insights on housing trends.
- **Policy Makers:** Understand housing affordability and urban development.

Outcome & Insights:

By the end of this project, users will be able to:

- See how housing prices fluctuate across time and space.
- Discover which features most strongly impact home values.
- Make informed real estate decisions backed by data.

2. IDEATION PHASE

---

1. Problem Statement

"Real estate buyers, sellers, and analysts often lack accessible, visual insights into how various factors like location, size, and property features impact housing prices over time, making it difficult to make informed investment or selling decisions."

---

2. Empathy Map Canvas

Section	Details
WHO are we empathizing with?	- Homebuyers - Home sellers - Real estate agents - Investors - Analysts
What do they need to DO?	- Understand market trends - Compare housing features vs price - Decide when and where to buy/sell
What do they SEE?	- Raw data - Complex spreadsheets - Confusing real estate listings without price rationale
What do they SAY?	- “Is this a good time to buy/sell?” - “Why is this house so expensive?” - “Where are prices going up/down?”
What do they DO?	- Use property portals like Zillow or MagicBricks - Rely on agents - Browse listings manually
What do they HEAR?	- News about housing bubbles or crashes - Word-of-mouth about price trends - Agent advice
PAINS	- Inability to process raw market data - Misinformation or lack of clarity - Missing visual comparison

Section	Details
GAINS	- Clear visual insights - Data-backed decisions - Confidence in timing and pricing

---

3. Brainstorming Ideas

Data Dimensions to Explore:

- Sale Price
- Square Footage
- Number of Bedrooms/Bathrooms
- Year Built
- Location (ZIP Code/City/State)
- Date of Sale

Dashboard Ideas:

- **Time Trend Dashboard**: Show monthly/yearly price trends
- **Feature Impact Dashboard**: Compare how features (bedrooms, size) affect prices
- **Location Map**: Interactive heat map by ZIP code or neighborhood
- **Comparison Tool**: Select two properties or regions to compare side-by-side
- **Outlier Detector**: Highlight unusually high/low prices

User Interactions:

- Filters for price range, city, year, size
- Hover tooltips for detailed data
- Search bar for ZIP code or city
- Downloadable reports

Key Questions to Answer:

- What is the average home price in a given region?
- How do property features affect prices?
- What regions have appreciated or depreciated most?
- When is the best time to buy or sell?

Visualization Types:

- Line charts (trends over time)
- Scatter plots (price vs sqft)
- Bar charts (price by bedrooms or property type)
- Box plots (price distributions)
- Map visualizations (regional differences)

3. REQUIREMENTS ANALYSIS

---

1. Customer Journey Map

Stage	User Action	User Emotion	Touchpoint	Pain Points
Awareness	Searching online for housing price trends	Curious, confused	Real estate portals, Google	Overwhelming data, no clear insights
Consideration	Wants to compare prices based on features and location	Interested, cautious	Real estate blogs, market forums	Lack of feature-wise breakdown or trend data
Research	Looks for tools to analyze housing market data	Motivated	Tableau dashboard, websites	Difficulty filtering, non-interactive charts
Decision	Uses the dashboard to explore trends, locations, features	Informed, confident	Interactive visualizations	Needs export/share options
Action/Conversion	Makes decisions or shares insights with agent or investor group	Empowered	Email, download, recommendations	Needs trusted data and up-to-date visuals

---

2. Solution Requirements

Functional Requirements

- Import real estate sales data (CSV/Excel/SQL)
- Clean and preprocess data

- Visualize:
    - Trends in prices over time
    - Impact of features (bedrooms, sqft)
    - Price comparisons by location
    - Outliers or anomalies
- Enable filtering by:
    - Date
    - City/ZIP code
    - Feature (sqft, bedrooms)
- Provide interactive tooltips
- Allow users to download insights

Non-Functional Requirements

- Dashboards should load in <5 seconds
- Mobile/tablet responsive (if embedded)
- Accurate and up-to-date data
- Easy-to-use and visually clean interface

---

3. Data Flow Diagram (Level 1)

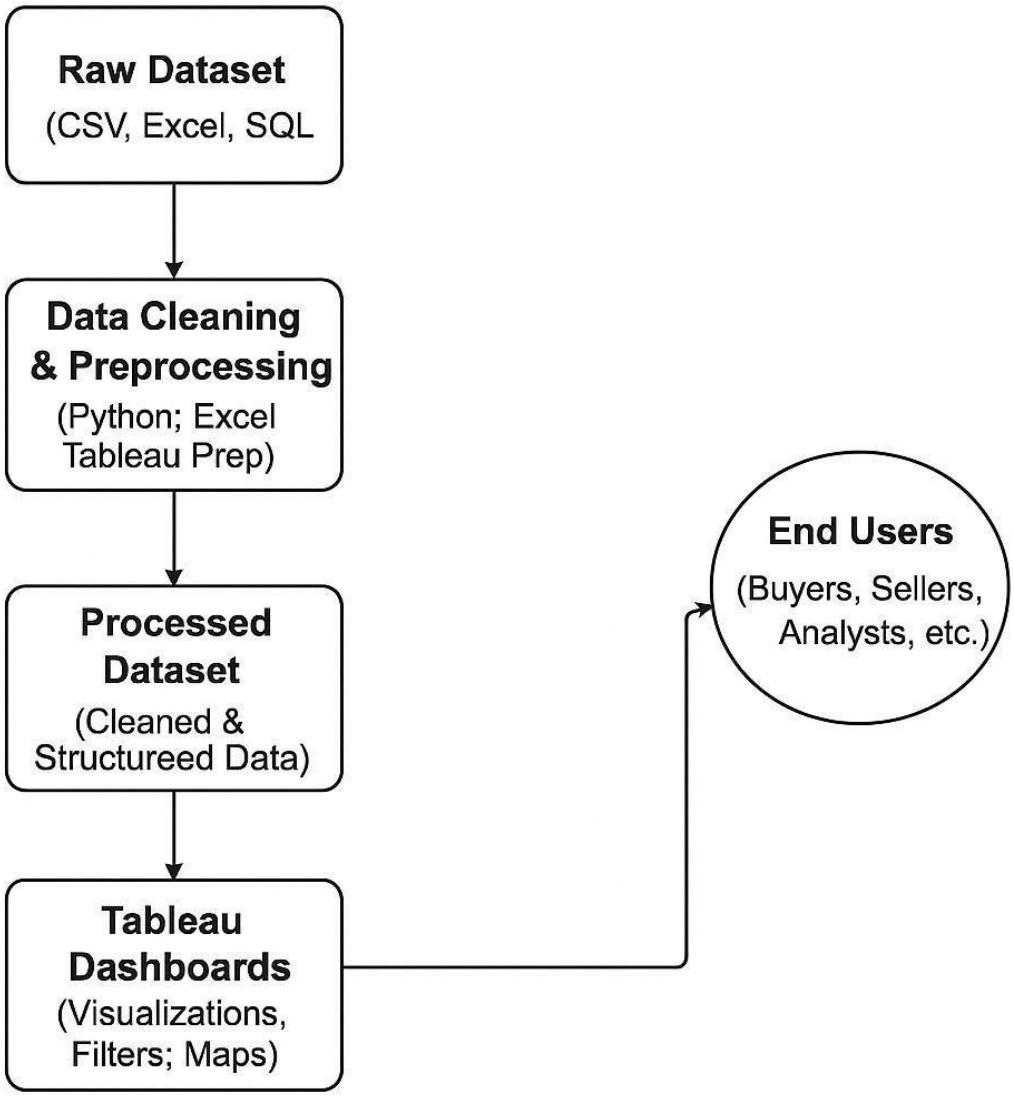

Description:

1. **Raw Data Input**: Comes from CSV/Excel or SQL source.
2. **Data Cleaning Layer**: Handle nulls, transform date fields, categorize prices.
3. **Processed Dataset**: Used by Tableau for building visualizations.
4. **User Interaction**: Front-end dashboard enables filters, selections, and viewing.

---

4. Technology Stack

Component	Tool/Technology
Data Source	CSV/Excel / PostgreSQL / MySQL
ETL (if needed)	Python / Pandas / Excel formulas
Visualization Tool	Tableau Desktop / Tableau Public
Deployment (Optional)	Tableau Server / Tableau Public Link / Flask
Styling	Tableau Themes, Custom Color Palettes
User Access (Optional)	Web portal via Flask/HTML or Tableau embed
Storage (Optional)	Google Sheets / SQL DB

4. PROJECT DESIGN PHASE :

1. Problem–Solution Fit

Problem Recap

- Users (buyers, sellers, analysts) lack **easy-to-understand**, **interactive**, and **feature-wise** insights into real estate prices.
- Market data is often **raw**, **scattered**, or **non-visual**, which makes **decision-making difficult**.

Solution Fit

- Build a **Tableau-based interactive dashboard** that:
  - Visualizes **trends** in housing prices.
  - Links **features** (like sqft, bedrooms) with prices.
  - Enables **filtering** by region, time, and features.
  - Uses **maps**, **charts**, and **tooltips** to simplify insights.
- Ensures users don't need technical knowledge to explore meaningful insights from raw data.

---

2. Proposed Solution

Component	Description
Data Import	Load real estate sales dataset (CSV, Excel, or from SQL database)
Data Cleaning	Clean nulls, format dates, standardize location and property feature values
Data Enrichment	Add calculated fields (e.g., price per sqft), bucket years into ranges
Dashboard Modules	Build modular dashboards:
	- Price Trends (Time Series)
	- Feature Impact (Scatter, Box Plot)
	- Regional Map View (Heat Map or Symbol Map)
	- Filter Panel (Location, Price Range, Features)

Component	Description
Interactivity	Filters, search, hover tooltips, export buttons
User Output	Web-based Tableau Public link or embedded in a portal

---

3. Solution Architecture

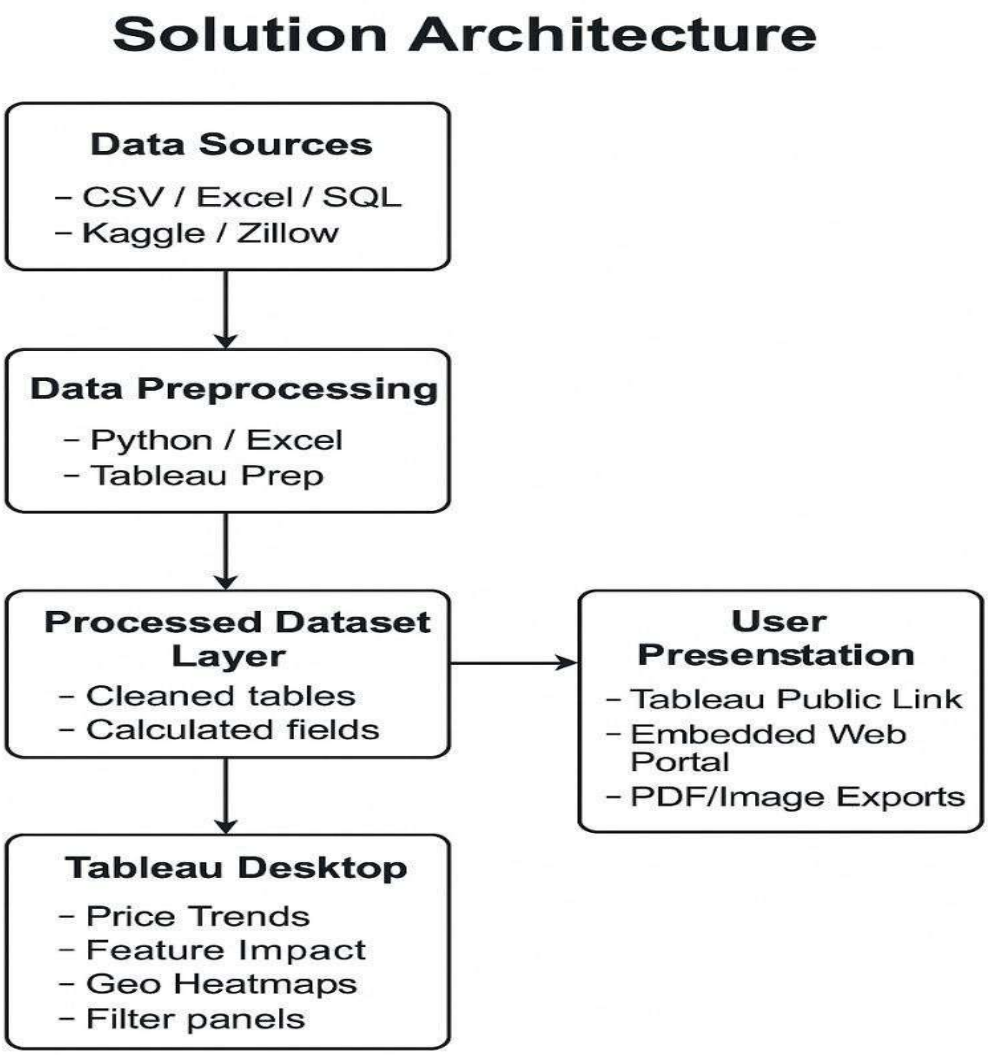

Key Components in the Architecture :

Layer	Tool/Function
Data Layer	CSV, Excel, or SQL database with housing sales data
Preprocessing Layer	Tableau Prep / Excel / Python (optional) for data cleanup & calculations
Visualization Layer	Tableau Desktop for building dashboards
Presentation Layer	Tableau Public/Server, or Web Embeds for user interaction
User Interface	Filter bars, tooltips, maps, charts, dashboards

---

5. Project Planning and Scheduling :

1. Project Timeline Overview

Phase	Duration	Start – End
1. Ideation & Planning	2 Days	Day 1 – Day 2
2. Data Collection & Prep	3 Days	Day 3 – Day 5
3. Dashboard Design	4 Days	Day 6 – Day 9
4. Dashboard Development	5 Days	Day 10 – Day 14
5. Testing & Review	2 Days	Day 15 – Day 16
6. Final Deployment	1 Day	Day 17
Total Duration	**~2.5 weeks**	**17 days total**

---

2. Gantt Chart View (Textual)

sql

CopyEdit

```
Phase                    Day 1–17
_____________________________________________

Ideation & Planning      ▇▇▇▇▇
Data Collection & Cleaning  ▇▇▇▇▇▇
Dashboard Design         ▇▇▇▇▇▇▇
Dashboard Development        ▇▇▇▇▇▇▇▇
Testing & Review             ▇▇▇▇
Final Deployment             ▇
```

---

3. Task Breakdown by Phase

Phase 1: Ideation & Planning (Day 1–2)

- Define objective, scope, audience
- Write problem statement
- Create empathy map, brainstorming list
- Choose key metrics & visual goals

Phase 2: Data Collection & Prep (Day 3–5)

- Collect real estate dataset (from Kaggle, Zillow, etc.)
- Clean data (remove nulls, standardize location names)
- Derive calculated fields (e.g., price per sqft, year buckets)

Phase 3: Dashboard Design (Day 6–9)

- Sketch dashboard wireframes
- Decide on visual types: line chart, scatter plot, map, etc.
- Plan layout: filters, tooltips, chart sizes

Phase 4: Dashboard Development (Day 10–14)

- Build dashboards in Tableau
    - Price Trends
    - Feature Impact
    - Regional Map

    - Filters and controls
- Connect data sources, test interactivity

Phase 5: Testing & Review (Day 15–16)

- Validate accuracy of visuals
- Check usability on different screen sizes
- Peer/client review and feedback

Phase 6: Deployment (Day 17)

- Publish to Tableau Public or Tableau Server
- (Optional) Embed into a web portal
- Export reports/screenshots for presentation

---

4. Milestones

Milestone	Due Date
Finalized Dataset Ready	Day 5
Wireframes Approved	Day 9
First Complete Dashboard Draft	Day 14
Reviewed and Approved Dashboard	Day 16
Project Published and Delivered	Day 17

---

5. Project Roles (Optional)

Role	Responsibility
Project Manager	Plan & monitor project
Data Analyst	Collect, clean, and prepare data

Role	Responsibility
Tableau Developer	Build dashboards and interactivity
QA Tester	Check usability, accuracy, and performance

---

6. Functional and Performance Testing

1. Functional Testing:

Functional testing ensures that all parts of the Tableau dashboard work correctly according to the requirements.

Test Case	Description	Expected Result	Status
FT01	Load dashboard from Tableau Public or Server	Dashboard loads without error	Pass/Fail
FT02	Filter by city or ZIP code	Dashboard updates visualizations with correct data	Pass/Fail
FT03	Filter by price range	All charts update to reflect only selected price range	Pass/Fail
FT04	Filter by number of bedrooms/bathrooms	Data updates accordingly across visuals	Pass/Fail
FT05	Tooltip interactivity	Hovering over data points shows relevant price, sqft, location, etc.	Pass/Fail
FT06	Time range filter (e.g., year)	Trend graphs update as per selected years	Pass/Fail
FT07	Maps load with correct location-based data	Heat or symbol map visualizes pricing per region	Pass/Fail

Test Case	Description	Expected Result	Status
FT08	Export/Download as PDF/Image	Dashboard or charts can be downloaded or printed	Pass/Fail
FT09	Responsiveness on different screen sizes (optional)	Dashboard adjusts on laptop/tablet screens	Pass/Fail
FT10	Search feature works (if embedded in portal)	Correct results shown for entered search term	Pass/Fail

---

2. Performance Testing :

Performance testing ensures that the dashboard works efficiently under expected load and data volume.

Test Area	What to Test	Success Criteria
Load Time	Time taken to load full dashboard	≤ 5 seconds
Filter Response Time	Time taken to update charts after applying filters	≤ 2 seconds
Data Volume Handling	Load dashboard with full dataset (~10K+ rows)	No lags or crashes
Map Load Speed	Map charts render with multiple regions/zones	Within 2–3 seconds
Tooltip Lag	Time for tooltip to appear when hovered	< 1 second
Concurrent Users (Server only)	Multiple users accessing dashboard	No timeouts/errors for up to 20 users (Tableau Public); scalable for 100+ on Server

Test Area	What to Test	Success Criteria
Device Compatibility	Load dashboard on different browsers (Chrome, Edge)	Consistent experience

Tools you can use for testing (optional):

- **Tableau Performance Recording**: Built-in tool to analyze load times
- **Browser Dev Tools (F12)**: Check rendering and loading speed
- **JMeter or BlazeMeter** (advanced): For stress testing (Tableau Server only)

Testing Summary Template :

Test Type	Number of Tests	Passed	Failed	Remarks
Functional	10	9	1	Tooltip delay on maps
Performance	6	6	0	-

Final Notes :

- Ensure **data is accurate** and reflects filters at all times.
- Test with **different datasets** to check for generalization.
- Optimize **data extracts** to improve performance.
- Run tests on **low bandwidth** to ensure accessibility.

7. Results

Output screenshot:

Dashboard:

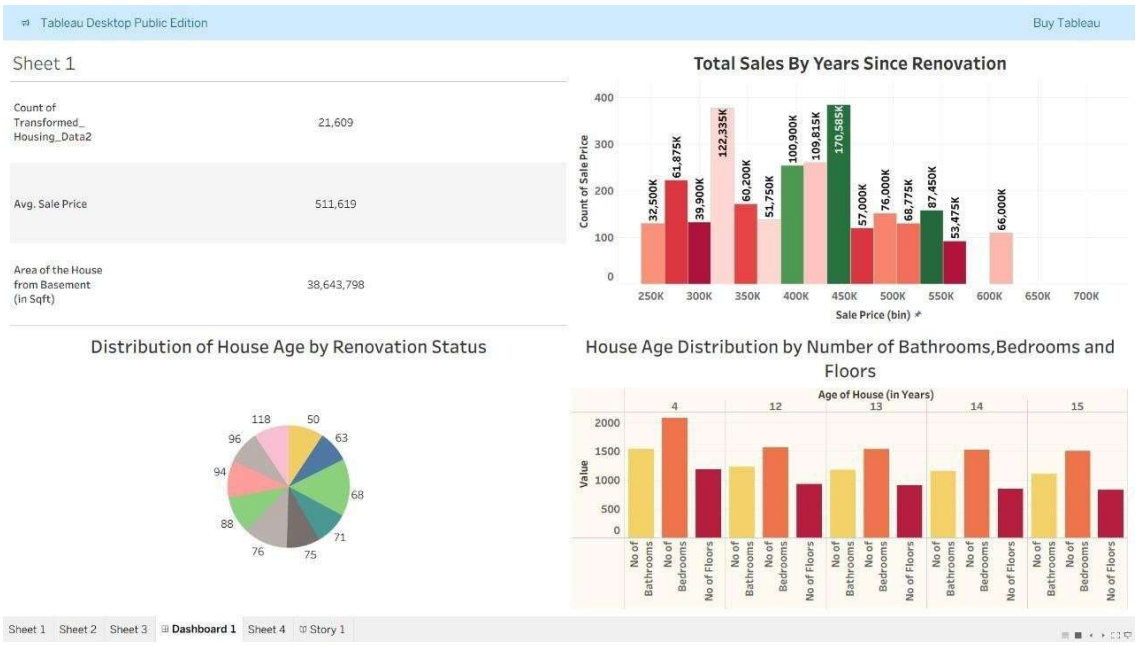

Story:

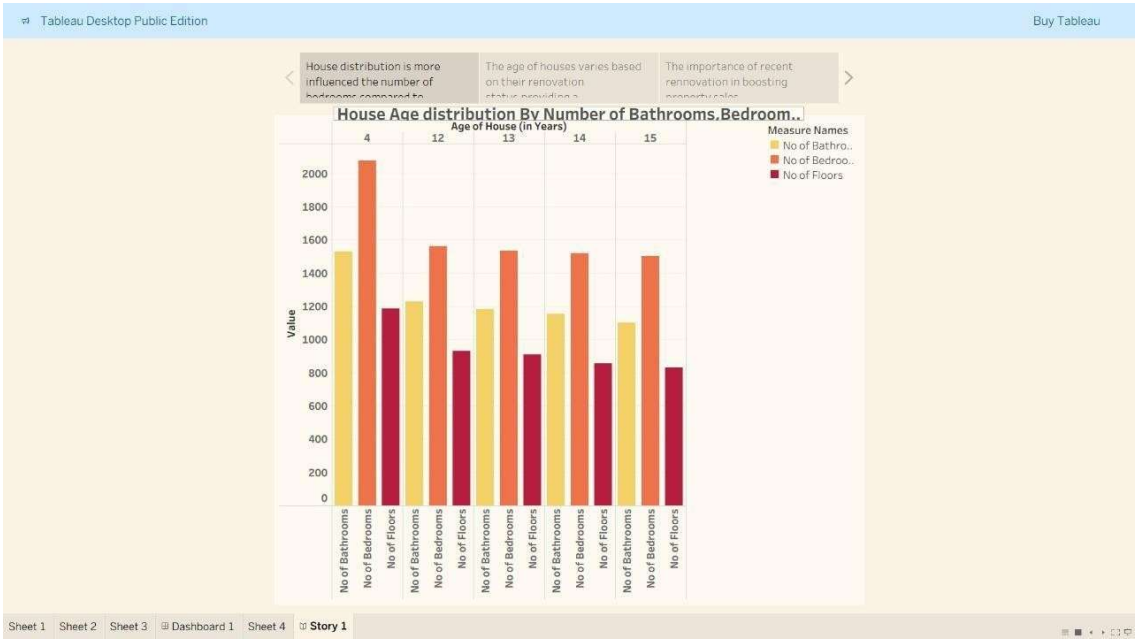

-

8. Advantages And Disadvantages

Advantages:

1. Intuitive Visual Analysis
   • Converts complex housing datasets into easy-to-understand dashboards using charts, maps, and filters.
   • Helps users quickly identify trends, outliers, and patterns.

2. Supports Data-Driven Decisions
   • Enables buyers, sellers, and investors to make informed decisions based on location, time, and property features.

3. Interactive Exploration
   • Tableau offers drill-downs, hover tooltips, filters, and clickable maps for user-guided analysis.

4. Customizable & Scalable
   • Dashboards can be customized for different user groups (analysts, public users, internal agents).
   • Easily updated with new data or additional filters.

5. Geographic Analysis
   • Built-in mapping tools help visualize price variation by city, ZIP code, or neighborhood.

6. Time-Series Insights
   • Price trends over time help understand market cycles and timing for purchase or sale.

Disadvantages:

1. Data Quality Dependency
   • Inaccurate, missing, or outdated data can lead to misleading insights.
   • Requires thorough data cleaning before visualization.

2. Limited Analytical Depth
   • Tableau is excellent for visual analysis, but not ideal for complex statistical modeling (e.g., regression analysis, predictive forecasting).

3. Performance with Large Datasets
   • Tableau Public may experience lag when working with very large datasets unless optimized.

4. User Interpretation Required
   • Non-technical users may misinterpret visualizations without guidance or domain understanding.

5. Requires Manual Updates (if not automated)
   • Without automation, regular data refresh and maintenance are needed to keep dashboards current.

6. Internet/Device Dependency
   • Requires a device with decent screen size and internet access to fully experience interactive features.

9. Conclusion:

The Tableau-based project effectively demonstrates the power of data visualization in making the complexities of the housing market more accessible, understandable, and actionable. By analyzing sales prices in relation to time, location, and property features, the dashboard enables users—including homebuyers, sellers, investors, and analysts—to derive meaningful insights that inform smarter real estate decisions.

The project successfully transformed raw housing data into interactive dashboards that reveal key trends, such as seasonal pricing fluctuations, feature-driven price impacts, and regional disparities in home values. Through visual tools like time-series charts, scatter plots, and geographic heat maps, the solution supports intuitive exploration of the market and addresses the information gap faced by non-technical stakeholders.

Despite limitations such as dependency on data quality and some analytical constraints, the project highlights the clear advantage of combining data storytelling with interactive visual analytics. It lays the groundwork for future enhancements such as real-time data integration, predictive modeling, or embedding within a broader property advisory platform.

In essence, this project not only visualizes data but also empowers users with clarity, confidence, and insight into one of the most significant financial decisions—real estate.

10. Future Scope :

1. Real-Time Data Integration
   - Integrate live feeds from real estate platforms (like Zillow, Realtor.com, or government databases) to keep the dashboard continuously updated with the latest sales data.
   - Enables real-time trend analysis and immediate market reaction tracking.

2. Predictive Analytics & Forecasting
   - Enhance Tableau with external tools (like Python, R, or machine learning APIs) to forecast future housing prices based on historical trends, inflation, and economic indicators.
   - Helps users anticipate market movements and prepare investment strategies.

3. Advanced Feature Correlation
   - Add multivariate analysis to examine how combinations of features (e.g., square footage + location + age) influence prices.
   - Use heatmaps, bubble charts, and regression overlays for deeper insights.

4. User Personalization & Recommendation
   - Build user-specific dashboards that recommend optimal buying/selling times or suggest areas based on preferences (budget, home size, commute time, etc.).

5. Mobile & Embedded Access
   - Optimize dashboard design for tablets and mobile devices for agents and buyers on the go.
   - Embed visualizations into real estate websites or CRM tools.

6. Integration with External Economic Data
   - Connect to interest rate APIs, inflation trackers, or construction cost indices to assess macroeconomic impacts on housing trends.

7. Affordability and Policy Analysis
   • Include layers for government policy (e.g., affordable housing zones, tax incentives) to support planners and policymakers.

8. Enhanced Geospatial Analysis
   • Add detailed GIS layers like school zones, crime rates, walkability scores, or amenities to enrich spatial visualizations.

9. Voice and AI Chat Integration
   • Integrate voice-enabled filters or AI chatbots to help users explore insights using natural language (e.g., “Show me areas with the highest price growth in 2024”).

10. Comparative & Benchmarking Tools
   • Enable side-by-side comparisons of cities, ZIP codes, or home types.
   • Add benchmarking against national or regional averages.

11. Appendix :

Dataset Link:

https://docs.google.com/spreadsheets/d/14GoXQlS2Io2vXe58z_hRXn-aKMIkNRin/edit?usp=sharing&ouid=108071140869669794597&rtpof=true&sd=true

Project Demo Link :

https://drive.google.com/file/d/1B56TGjOS4gfB3lKd32t7EbDZXYqoKsJx/view?usp=sharing

Git Hub Link:

https://github.com/imyogesh15/Visualizing-Housing-Market-Trends